A4 Tableau analysis

Hypothesis 1: The population in the South End has steadily declined over time.

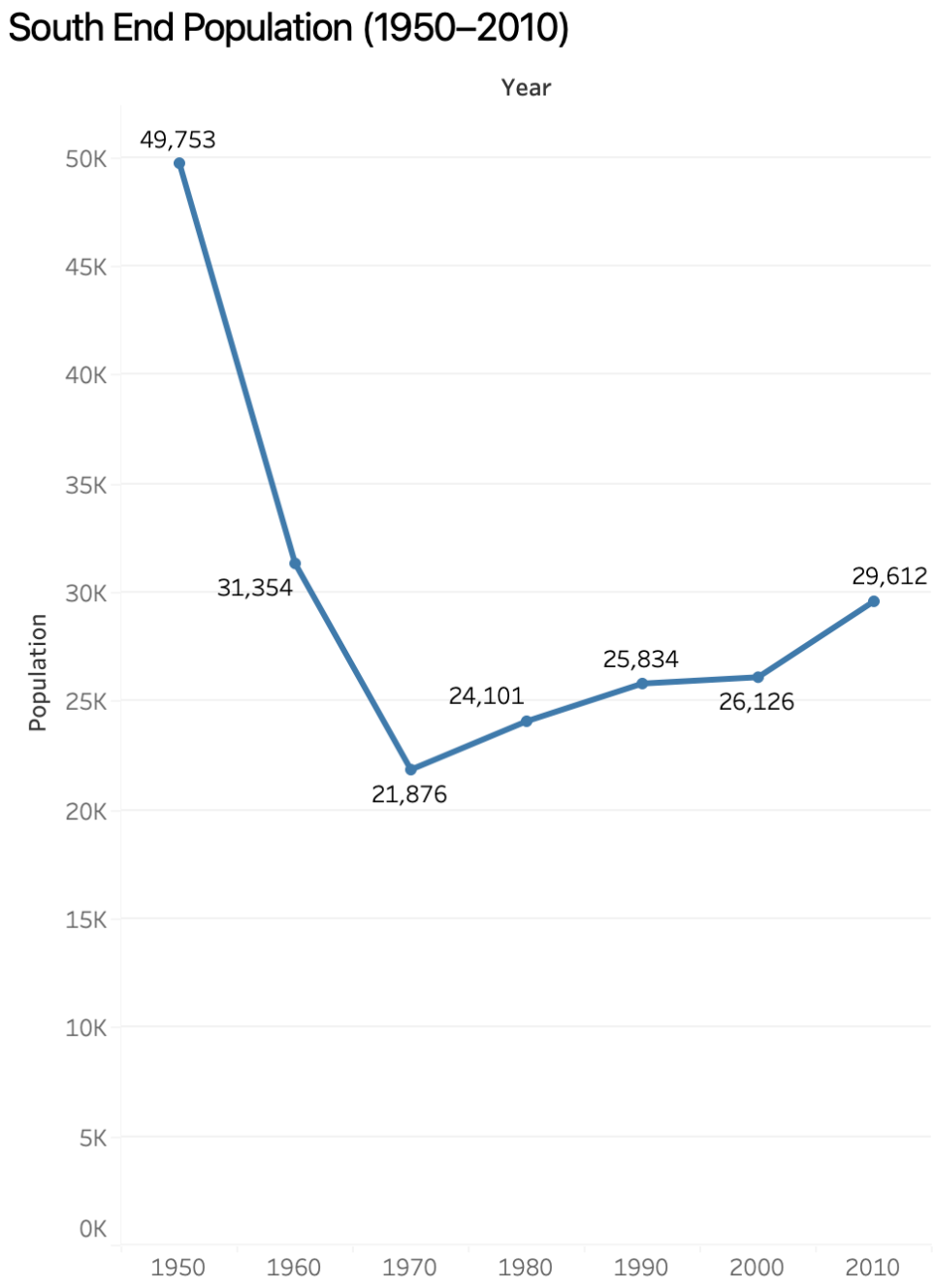

I used a line chart because it effectively shows trends over time, with year on the x-axis and population on the y-axis. Data labels are included for precise reading. This hypothesis is partially contradicted. While the population declined sharply from 1950 to 1970, it reversed and has been steadily increasing since, reaching 29,612 by 2010. The trend is a U-shape rather than a steady decline.

Hypothesis 2: The dominant age group in the South End is aged 20–54.

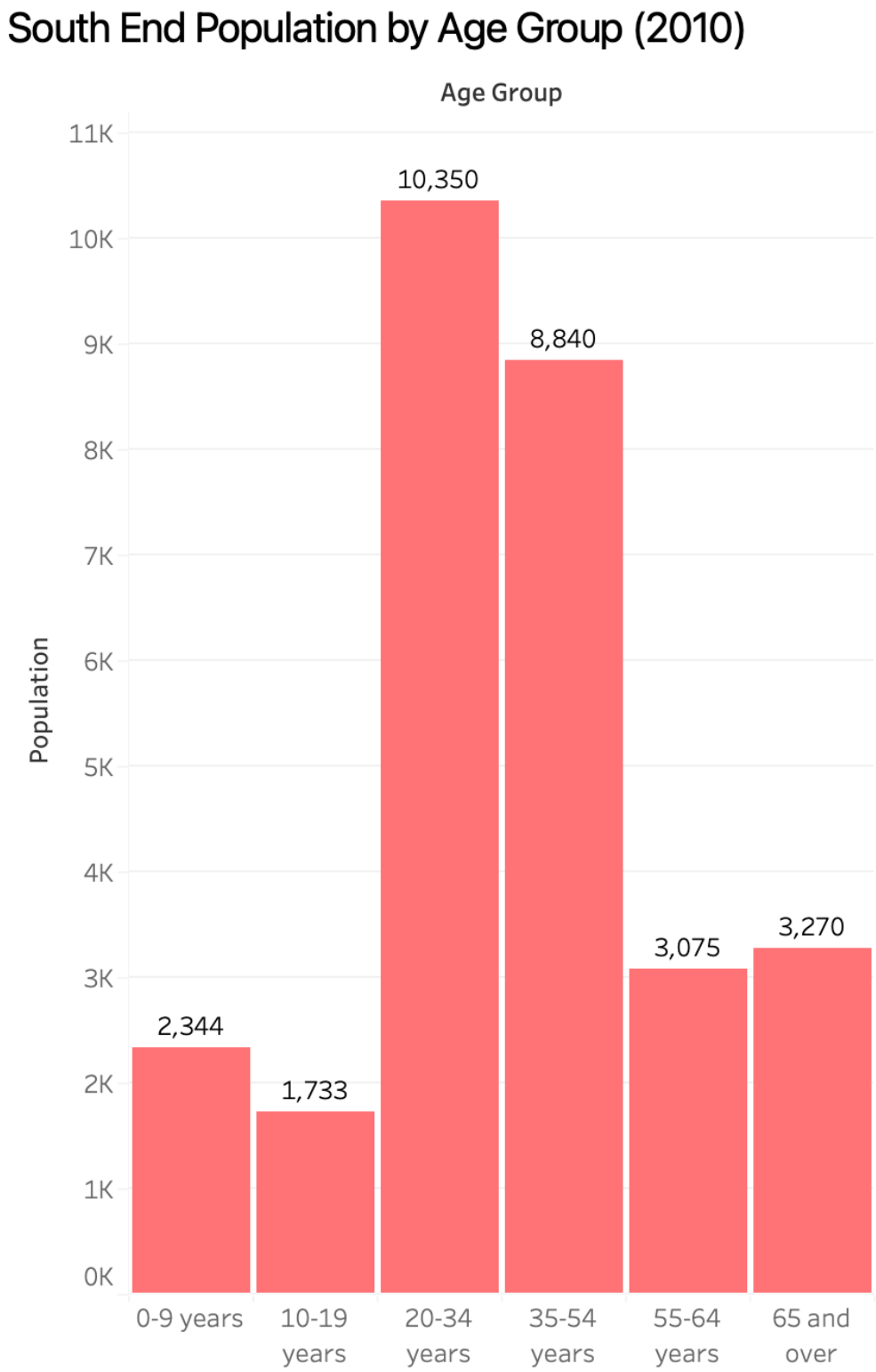

I used a bar chart to compare population across age groups, ordered by age for easy readability. Bar length encodes population count. The data confirms this hypothesis. The 20–34 and 35–54 groups together account more than half of the total population, far exceeding all other age groups.

Hypothesis 3: The South End has become more racially diverse over time.

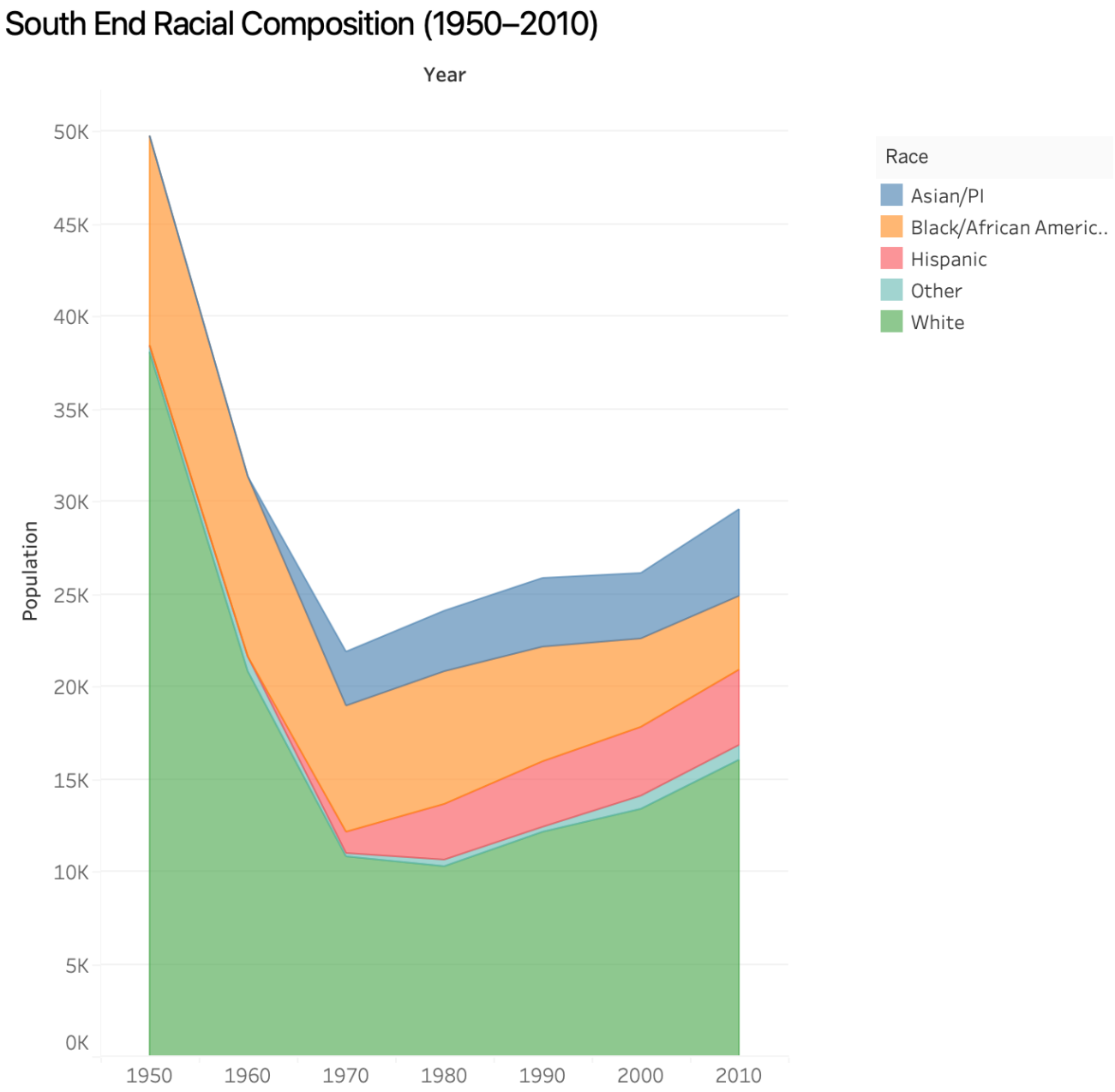

I used a stacked area chart to show both total population and each racial group's share over time. Colour encodes the different racial categories. The data confirms this hypothesis. In 1950 the neighbourhood was over 76% White. By 2010, it became genuinely multiethnic with White (54%), Asian/PI (16%), Hispanic (14%), and Black/African American (13%).

Hypothesis 4: The South End has shifted from renter occupied to more owner occupied housing.

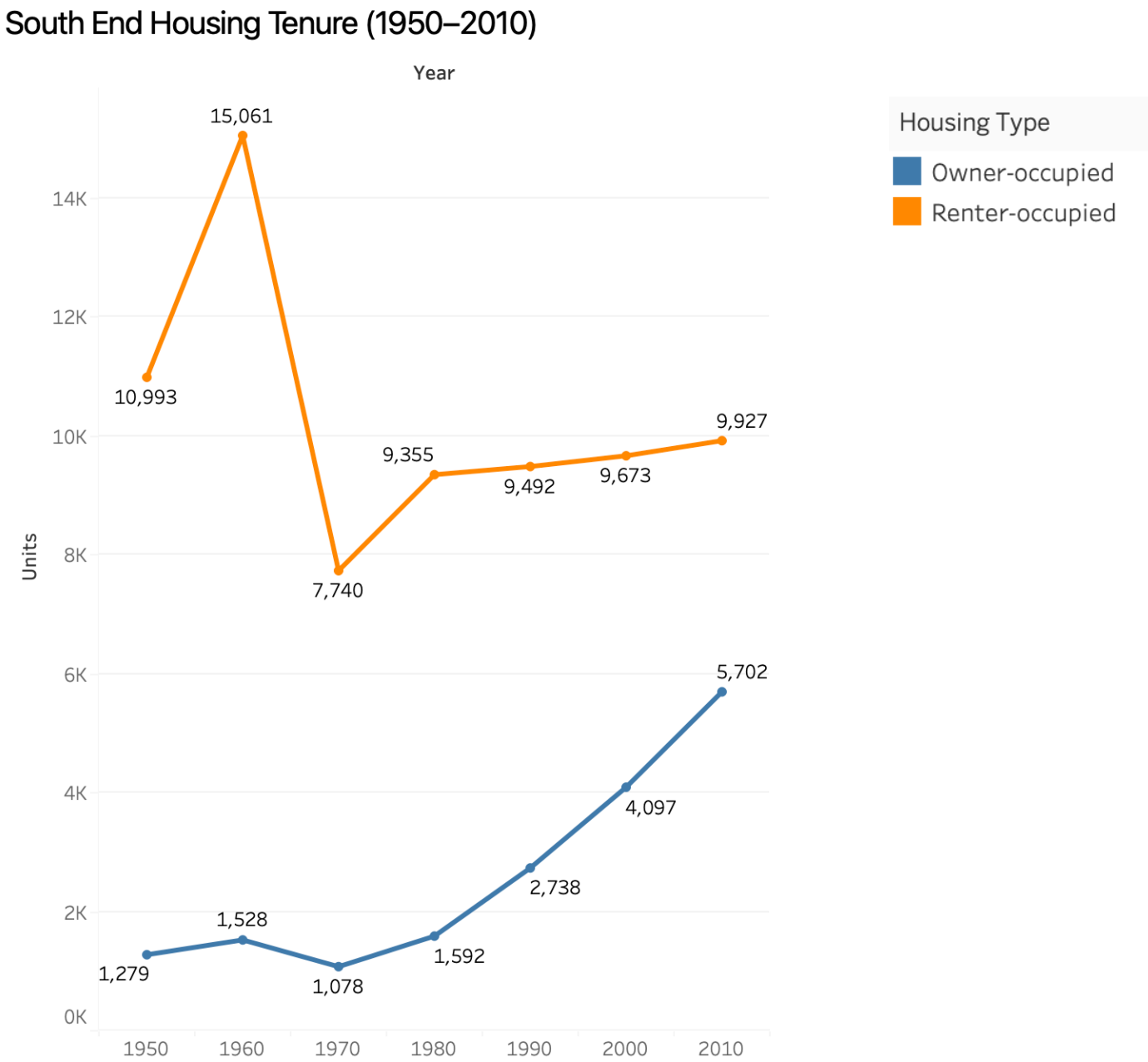

I used a line chart with colour to distinguish owner occupied and renter occupied housing trends over time. Data labels show exact values. The data supports this hypothesis. Owner-occupied units grew from 1,279 in 1950 to 5,702 in 2010, especially after 1980. However, renters still make up the majority , so the shift is significant but incomplete.